Zero RunWay

A New Era of Drones

Len Asari, Patrick Dorris,
Cooper Shults

Knauss SCHOOL OF BUSINESS
University of San Diego

Konstantin Mayer

Founder

B. Sc aerospace engineering

Student Master HM FK03
Aerospace Engineering
4th Semester

Ludwig Staab

Founder

B. Sc aerospace engineering

Student Master HM FK03
Aerospace Engineering
4th Semester

Len Asari

Masters of Accounting; Business Analytics

Cooper Shults

Masters of Business Administration; Business Analytics

Patrick Dorris

Masters of Business Administration; Business Analytics

Knauss SCHOOL OF BUSINESS
University of San Diego

Maritime SAR in Germany

~ 1,800 annual SAR missions

~ 270 - 450 beyond 12nm

Commercial Vessels

IMO obligations

Low Frequency but high cost

Offshore Platforms

~ 100 SAR tasks annually per platform

24/7 SAR availability creates high costs

Segment Priority

- ZeroRunWay should start with offshore operators first, not commercial vessels
- Customers already expect SAR costs
- SAR problems are clearer and urgent
- Buyers are fewer and easier to reach
- Validation builds credibility faster

12 nm Jurisdiction and Market Size

- 900 beyond 12 nm - 100 inside 12 nm
- German wind farms are outside 12 nm but still under the BSH and MRCC Bremen
- Denmark and Norway are some other nearby options for quick adoption

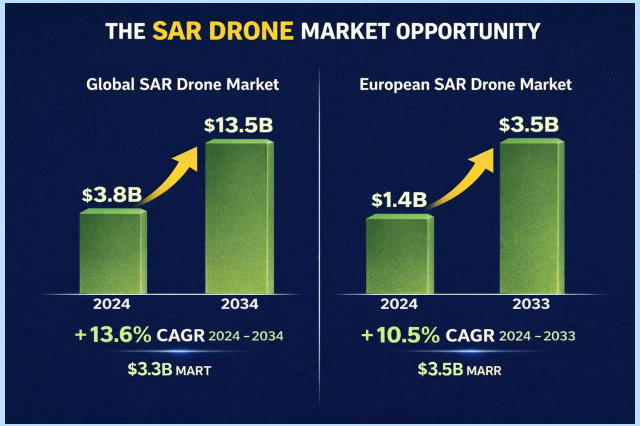

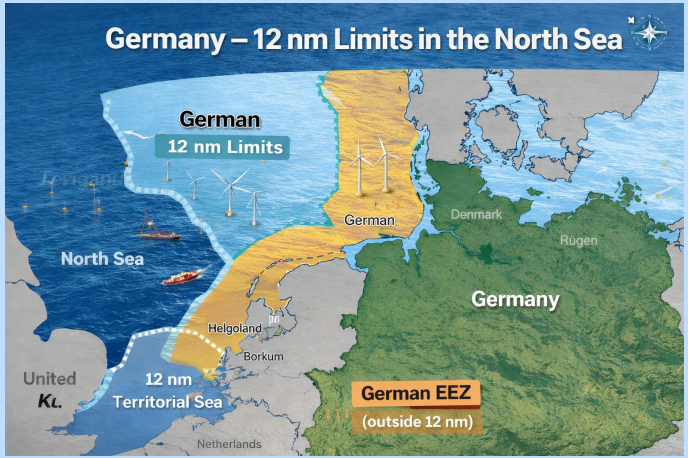

Denmark

- Fastest path to flight - UAS Denmark
- Offshore corridors designed for experminitation

Norway

- Customers who pay for safety
- Validation in the harshest real world conditions
- Equinor, Aker BP, Vår Energi

Extending the Launcher from Surveillance to Intervention

- Flotation / survival aid
- Marker / strobe / AIS beacon
- Sonar buoy
- Comms relay node
- Environmental sensor

Focused, High-Value Use Cases

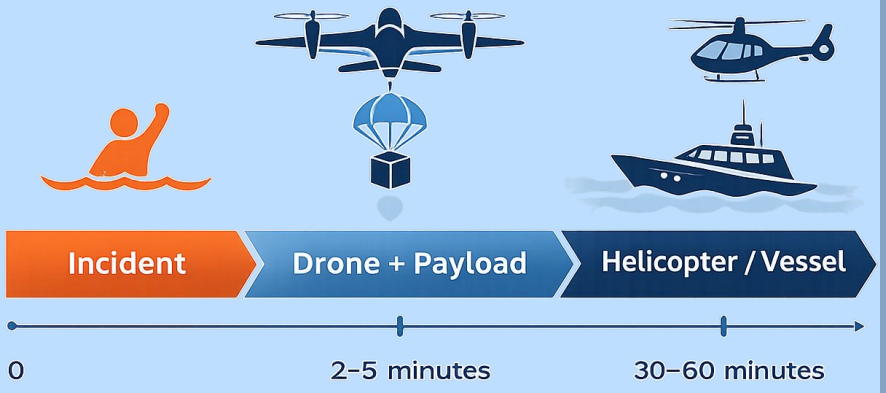

- SAR outcomes are decided before crewed assets arrive
- Payloads deliver immediate effect, not just information
- Designed for high-risk, offshore conditions
- Activated only for defined incident types
- Reduce urgency to deploy crews into danger

Payloads augment, not replace, existing SAR assets.

Extending the Launcher from Surveillance to Intervention

- Flotation / survival aid
- Marker / strobe / AIS beacon
- Sonar buoy
- Comms relay node
- Environmental sensor

Competitor Analysis

	ZeroRunWay	Equinor	Aker Solutions	Nordic Unmanned
Multicopter flexibility + Fixed wing endurance				
Specialized launch container				
Distance radius				

Positioning Map

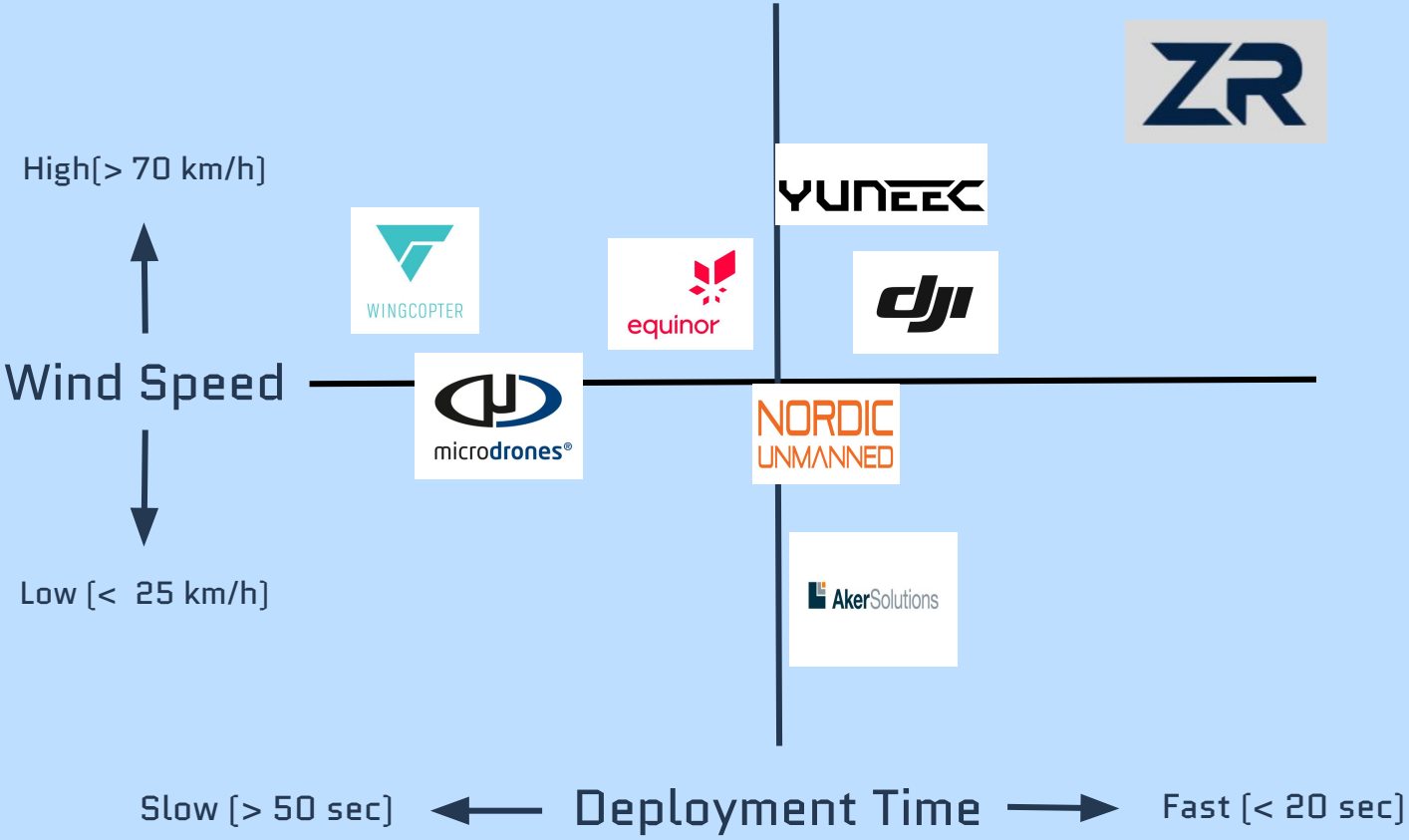

Revenue Model Transition

Year 1 - 5 breakdown, aligned with technical maturity, funding instruments, and financial behavior

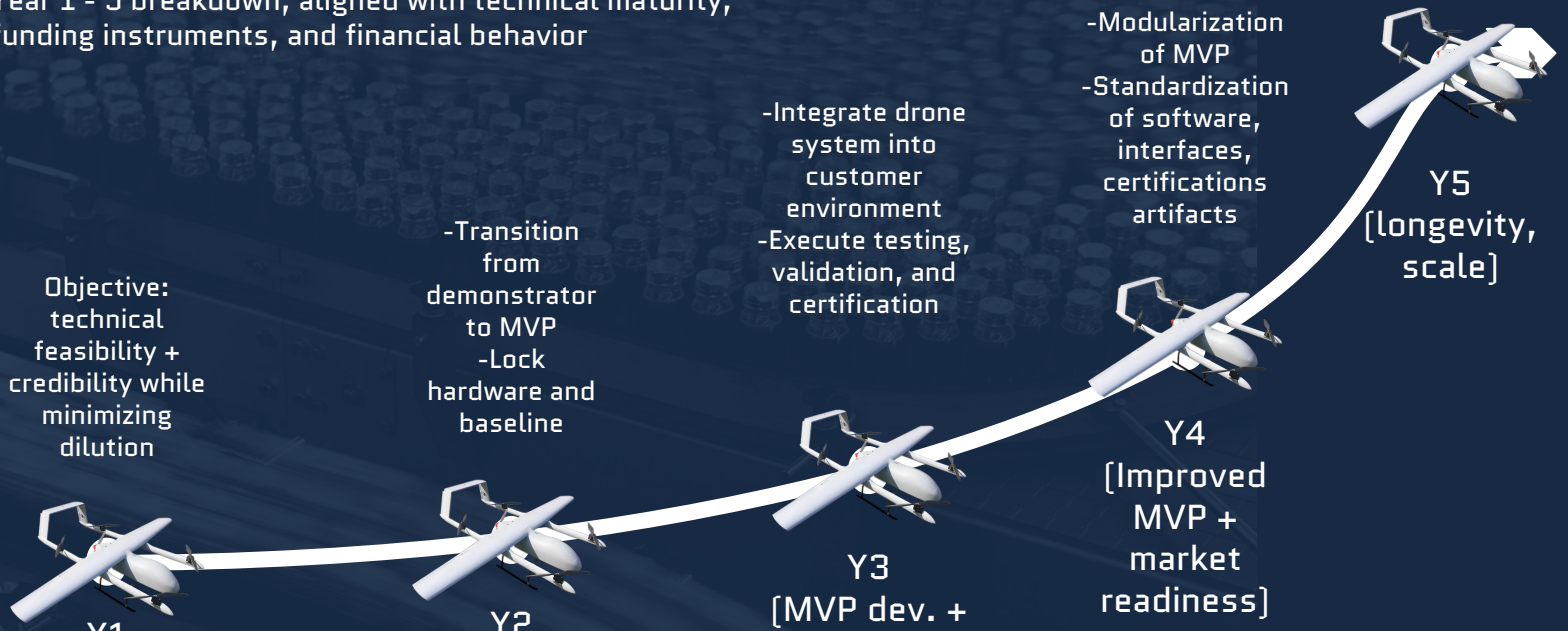

Risk vs Reward

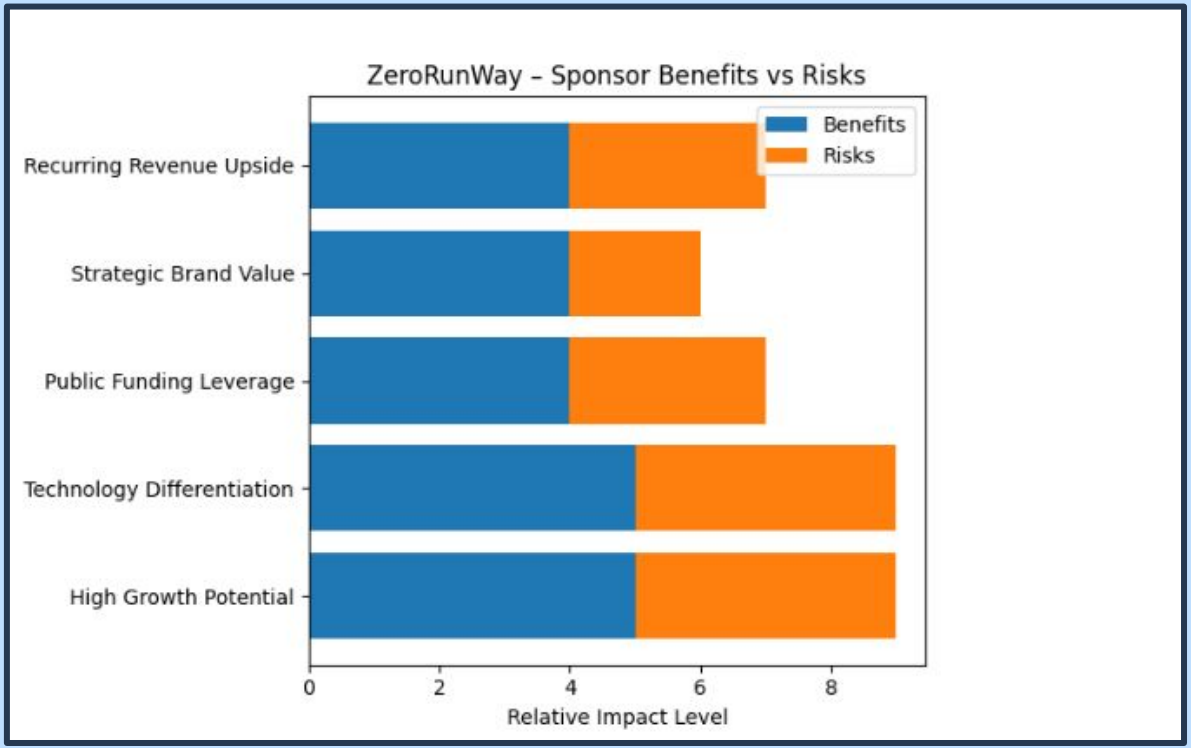

- Relative impact level indicates comparative strength of benefits and risks associated with investment factors
- The 5 factors are key takeaways for a sponsor, and being transparent and making sure sponsors see risk and benefit are crucial

Revenue Projection

Revenue proposal Y1-Y5

-Public funding (EXIST): ~150K-200K
-ESA program check: ~800K-1M
-Sponsorship/partnership: ~100K-150K

-Net income aim: ~1M

Y1

-MVP contract value before recurring customers: ~1M-2M

Y2

-MVP contract value before recurring customers: ~2M-4M

Y3

-Customer contract(s): 1
-Average contract value: ~8M

-Annual revenue: 8M

Y4

-Customer contract(s): 2
-Average contract value: ~8M

-Annual revenue: 16M

Y5

Annual P&L

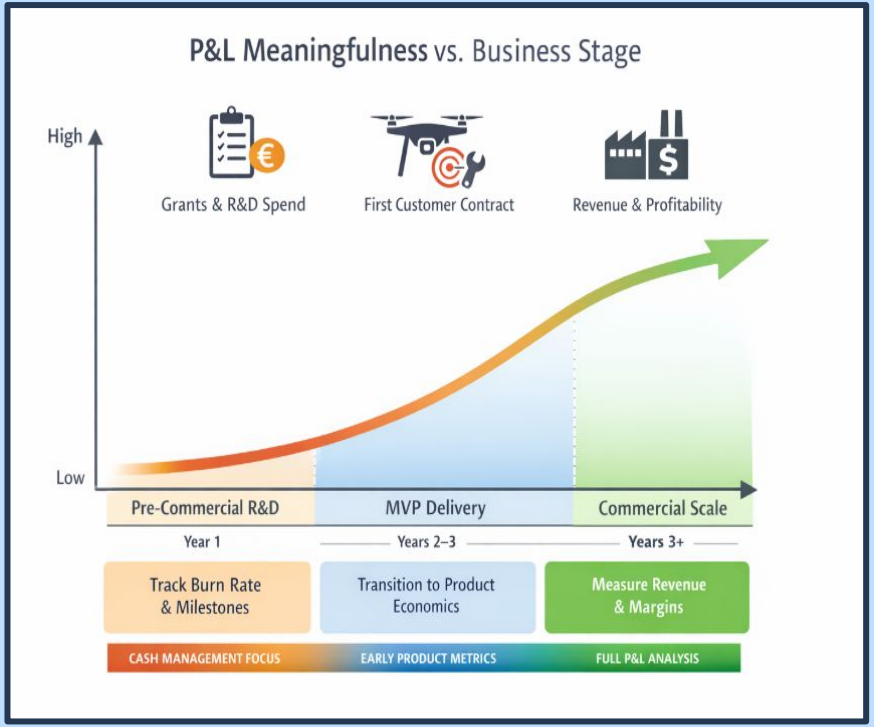

Y4 (CUSTOMER: 1)	Y5 (CUSTOMERS: 2)
Revenue: ~10M	Revenue: ~20M
COGS (~45%): ~4.5M	COGS (~40%): ~8M
Gross Profit: ~5.5M	Gross Profit: ~12M
OPEX: ~6.5M	OPEX: ~7M
EBITDA: -1M	EBITDA: 5M

- Y4, still investing therefore breakeven not yet reached
- Y5, clear operating leverage appears

The Ask

Seeking seed funding to accelerate prototype development

Contact:
Ludwig Staab: ludwig.staab@zerorunway.de
Konstantin Mayer: konstantin.mayer@zerorunway.de

References

Competitor Information:

- Equinor drones: Skyports Drone Services and Equinor launch North Sea delivery trial | Revolution.aero]
- Aker Solutions: Aker Solutions' autonomous drones pass crucial milestone | Aker Solutions
- Nordic Unmanned: Nordic Unmanned awarded breakthrough offshore logistics contract with Equinor - Nordic IR

Risk vs Reward:

- IBISWorld. *Industry Reports — Performance, Revenue Drivers, and Key Success Factors.*
- Blank, S., & Dorf, B. (2020). *The Startup Owner's Manual*. Wiley.
- Damodaran, A. (2012). *Investment Valuation*; NYU Stern Startup Valuation Notes.

References

Payloads

Aeromorning. (2025, December). *European Maritime Safety Agency selects Airbus Flexrotor drone*. AeroMorning. Retrieved January 15, 2026, from https://aeromorning.com/en/european-maritime-safety-agency-selects-airbus-flexrotor-drone/

Airbus Defense & Space. (2025, December). *European Maritime Safety Agency selects Airbus Flexrotor drone for maritime surveillance* [Press release]. Airbus. Retrieved January 15, 2026, from https://www.airbus.com/en/newsroom/press-releases/2025-12-european-maritime-safety-agency-selects-airbus-flexrotor-drone-for

European Maritime Safety Agency. (n.d.). *Remotely Piloted Aircraft Systems (RPAS) — surveillance services*. EMSA. Retrieved January 15, 2026, from https://www.emsa.europa.eu/we-do/surveillance/rpas.html

European Maritime Safety Agency. (n.d.). *RPAS systems background and contract history*. EMSA. Retrieved January 15, 2026, from https://www.emsa.europa.eu/rpas-systems/rpas-background.html

DroneLife. (2024, February 2). *TEKEVER AR5 drone successfully demonstrates lifeboat deployment in Italian Coast Guard search and rescue exercise*. DroneLife. Retrieved January 11, 2026, from https://dronelife.com/2024/02/02/tekever-ar5-drone-successfully-demonstrates-lifeboat-deployment-in-italian-coast-guard-search-and-rescue-exercise/

Port Technology. (2024, February). *Italian Coast Guard tests autonomous drone lifeboat*. PortTechnology.org. Retrieved January 12, 2026, from https://www.porttechnology.org/news/italian-coast-guard-tests-autonomous-drone-lifeboat/

Smart Maritime Network. (2024, February 6). *Autonomous drone lifeboat system tested by Italian Coast Guard*. Smart Maritime Network. Retrieved January 12, 2026, from https://smartmaritimenetwork.com/2024/02/06/autonomous-drone-lifeboat-system-tested-by-italian-coast-guard/